100% Taurex Well in Midland County



On the Midnight Bourbon pad in Midland County, Cactus 172 used 100% Taurex to drill a 25,500ft Lower Spraberry well in under 133 drilling hours.

- Equipped with **X1 EDGE** cutters, all 3 Taurex bits came out with fantastic dulls

10.625" TST616:

- **TSt616** drilled **>5800ft** in **13.4hrs**, averaging **434ft/hr**
  - **8% faster** than the competitor runs on the same pad
- **441ft/hr** average rotating ROP

10.625" Int	ROP (ft/hr)
TSt616	**434**
Competitor Average	403

7.875" TXd611: Vertical/Curve

- **TXd611** completed the planned vertical/curve interval on a 6.5" 2.38° Motor:
  - **1878ft** of vertical with an average ROP of **233ft/hr**
  - 100% of the curve in **11hrs** with an average motor yield of **14°/100ft**

7.875" TXd613: Lateral

- **TXd613** drilled the >**3.2 mile lateral** with **<6% sliding footage**
- Cactus 172 completed this lateral **8hrs faster** than the pad average.

*Average excludes sidetracked well

Well	Lateral Drilling Time (h)	Lateral Distance (ft)
21HJ	**100**	**17011**
Pad Average	108	16320

Taurex 7.875" BHA Performance									
Run Type	**7.875" Type**	**Motor Specs**	**Section**	**ROP (ft/hr)**	**Distance (ft)**	**Time (hrs)**	**Rotate ROP (ft/hr)**	**Slide ROP (ft/hr)**	**Slide Distance (%)**
Vertical/ Curve	TXd611	6.5", 2.38° 0.27RPG	Vertical	233	1878	8.1	236	120	1%
			Curve	72	810	11.3	135	64	80%
Lateral	TXd613	6.625", 1.8° 0..29RPG	Lateral	170	17010	100	211	40.4	5.7%

AI EDGE
POWERED BY BITVISION™

Copyright © 2022 Taurex Drill Bits, LLC. This document is copyrighted and, whether patentable or non-patentable matter, embodies the proprietary and confidential information and property of Taurex. Recipients agree it is loaned in confidence with the understanding the document nor the information in it will be reproduced, used or disclosed to others in whole or in part without the written authorization of Taurex

10.625″ TSt616

OPERATOR	RIG	RUN DATE	DEPTH IN	DEPTH OUT	DISTANCE DRILLED
APACHE CORPORATION	Cactus 172		390	6197	5807
WELL	**COUNTY**	**SERIAL**	**HOURS**	**ROP**	**DULL**
MIDNIGHT BOURBON X WEST F 21HJ	MIDLAND (TX), TEXAS	S15728	13.39	433.7	0-1.2-BT-S-X-0-LN-TD

Copyright © 2022 Taurex Drill Bits, LLC. This document is copyrighted and, whether patentable or non-patentable matter, embodies the proprietary and confidential information and property of Taurex. Recipients agree it is loaned in confidence with the understanding the document nor the information in it will be reproduced, used or disclosed to others in whole or in part without the written authorization of Taurex

7.875″ TXd611



OPERATOR	RIG	RUN DATE	DEPTH IN	DEPTH OUT	DISTANCE DRILLED
APACHE CORPORATION	Cactus 172	09/01/2025	6197.68	8886.68	2689
WELL	**COUNTY**	**SERIAL**	**HOURS**	**ROP**	**DULL**
MIDNIGHT BOURBON X WEST F 21HJ	MIDLAND (TX), TEXAS	S15857	19.1	140.8	0.1-0.1-CT-G-X-I-WT-BHA

Copyright © 2022 Taurex Drill Bits, LLC. This document is copyrighted and, whether patentable or non-patentable matter, embodies the proprietary and confidential information and property of Taurex. Recipients agree it is loaned in confidence with the understanding the document nor the information in it will be reproduced, used or disclosed to others in whole or in part without the written authorization of Taurex

7.875″ TXd613



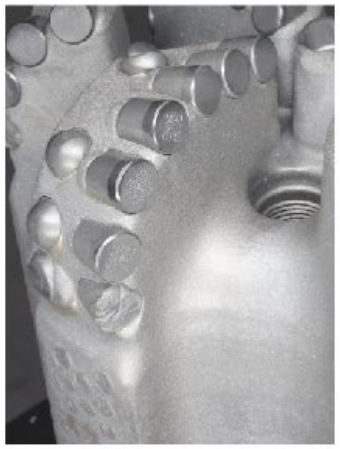





OPERATOR	RIG	RUN DATE	DEPTH IN	DEPTH OUT	DISTANCE DRILLED
APACHE CORPORATION	Cactus 172	09/07/2025	8886	25896	17010
WELL	**COUNTY**	**SERIAL**	**HOURS**	**ROP**	**DULL**
MIDNIGHT BOURBON X WEST F 21HJ	MIDLAND (TX), TEXAS	S15821	99.99	170.1	0-0-WT-G-I-I-CT-TD

Copyright © 2022 Taurex Drill Bits, LLC. This document is copyrighted and, whether patentable or non-patentable matter, embodies the proprietary and confidential information and property of Taurex. Recipients agree it is loaned in confidence with the understanding the document nor the information in it will be reproduced, used or disclosed to others in whole or in part without the written authorization of Taurex